Aakash Goyal

Use of Big Data in the Oil & Gas Industry

Background: Use of Big Data in the Oil & Gas Industry

The global oil and gas industry is one of the most data-intensive sectors in the modern economy. From seismic surveys and geological modeling to drilling operations and global distribution networks, the industry generates massive volumes of structured and unstructured data on a daily basis. This data exhibits the core characteristics of Big Data—high volume, velocity, variety, and complexity. As energy demand continues to grow worldwide, the ability to effectively collect, store, process, and analyze this data has become a critical competitive advantage.

Big Data in the oil and gas sector originates primarily from exploration and production (E&P) activities. Seismic imaging technologies produce terabytes of subsurface data that must be analyzed to detect potential hydrocarbon reservoirs. Geological surveys, well logs, pressure readings, and reservoir simulations generate highly technical datasets requiring advanced computational methods for interpretation. In addition, modern drilling equipment is equipped with thousands of sensors that transmit real-time operational data, allowing engineers to monitor performance, reduce downtime, and prevent equipment failure.

One of the most transformative applications of Big Data in oil and gas is predictive analytics. By leveraging machine learning algorithms and statistical modeling, energy companies can estimate reservoir size, forecast production output, and evaluate long-term profitability before committing billions of dollars to drilling projects. This reduces exploration risk and enhances capital allocation efficiency. Advanced analytics also assist in identifying optimal drilling locations by integrating geological, geographic, and historical production data.

Big Data plays a vital role in reservoir management. Through continuous monitoring of pressure levels, production rates, and fluid composition, companies can optimize extraction strategies and extend the productive lifespan of oil and gas fields. Reservoir simulation models rely on large-scale computational power to simulate fluid movement underground, enabling engineers to make informed decisions about injection strategies and enhanced recovery techniques.

Beyond exploration and production, Big Data is crucial in supply chain optimization and global energy distribution. Oil and gas markets are highly sensitive to geopolitical events, regulatory changes, and fluctuations in global demand. By analyzing historical price data, transportation logistics, storage capacity, and international trade flows, companies can improve pricing strategies and reduce supply chain inefficiencies. Data-driven decision-making improves resilience in an industry often exposed to volatility.

The integration of geographic information systems (GIS) has further expanded the role of Big Data in energy analytics. Spatial analysis allows companies to visualize the geographic distribution of reservoirs, identify regional production clusters, and assess proximity to infrastructure such as pipelines and ports. Mapping technologies combined with large-scale reservoir datasets provide insights into geopolitical concentration of energy resources and regional production dominance.

However, the implementation of Big Data in oil and gas is not without challenges. The industry must manage petabyte-scale datasets while ensuring cybersecurity, data integrity, and regulatory compliance. Integrating legacy systems with modern analytics platforms can be technically complex and costly. Furthermore, the industry faces a talent gap, as advanced data science skills are increasingly required alongside traditional petroleum engineering expertise.

Despite these challenges, Big Data has fundamentally transformed how energy companies operate. It enhances exploration precision, improves operational efficiency, reduces environmental risk, and supports strategic planning at a global scale. As digital transformation accelerates across industries, the oil and gas sector continues to evolve into a data-driven enterprise where analytics and visualization tools such as Tableau play a central role in converting raw datasets into actionable insights.

The ability to analyze large-scale reservoir datasets and extract meaningful geographic and structural patterns is therefore essential in understanding the global distribution of energy resources. This project focuses specifically on the regional distribution and size characteristics of oil and gas reservoirs, demonstrating how Big Data visualization can support strategic interpretation of global energy infrastructure.

Dataset Description and Data Source

The dataset used in this analysis consists of over 17,000 records of global oil and gas reservoirs, representing a large-scale structured database of hydrocarbon fields worldwide. Each record corresponds to a specific oil or gas field and includes geographic, structural, and categorical attributes that enable multi-dimensional analysis.

Key variables in the dataset include:

Field Name (NAME) – Identifier of the oil or gas reservoir
Country (COUNTRY) – Nation in which the reservoir is located
Region (REGION) – Broader geographic classification
Reservoir Type (RESERVOIR_TYPE) – Indicates whether the field primarily produces oil or gas
Onshore/Offshore Classification (ON_OFFSHORE) – Specifies geographic extraction environment
Field Area (AREA_KM2) – Surface area of the reservoir in square kilometers

With more than 17,000 rows, this dataset meets the scale expectations of a Big Data environment in terms of volume and diversity. The geographic spread of the data enables cross-regional comparisons, while the inclusion of field area allows quantitative size analysis. The categorical structure of reservoir type and extraction location supports segmentation and comparative evaluation.

The dataset represents a high-value analytical resource because it integrates spatial distribution, structural classification, and quantitative field measurements into a unified framework. This enables advanced visualization techniques such as geographic mapping, distribution modeling, and comparative size analysis.

The scale and richness of the dataset make it suitable for evaluating regional concentration of hydrocarbon resources, identifying dominant producing regions, and assessing the distribution of large versus small reservoirs globally. By applying data visualization tools such as Tableau, meaningful patterns can be extracted from this large dataset to support strategic interpretation.

Sub-Category: Regional Distribution and Size Analysis of Oil & Gas Reservoirs

The selected sub-category for this project focuses on analyzing the geographic distribution and size characteristics of global oil and gas reservoirs. Within the broader Big Data use case of oil and gas analytics, this sub-category investigates how hydrocarbon resources are distributed across regions and countries, and how reservoir size varies across geographic and structural classifications.

Regional distribution analysis is critical because energy production is not evenly distributed worldwide. Certain countries and regions dominate global oil and gas production due to geological advantages and historical development. By examining the frequency of reservoirs across regions and countries, it is possible to identify concentration clusters and dominant geographic zones.

In addition to spatial distribution, reservoir size plays a significant role in economic and strategic planning. Large reservoirs often represent high-production, long-life assets that significantly impact national energy output and global supply chains. Smaller reservoirs, while more numerous, may contribute less individually but collectively form an important component of regional production networks.

This sub-category therefore integrates both categorical and quantitative analysis:

- **Frequency analysis of reservoirs by country and region**
- **Comparative analysis of oil versus gas reservoir distribution**
- **Onshore versus offshore structural distribution**
- **Statistical distribution of reservoir surface area**
- **Identification of outliers and large-scale reservoirs**

By combining these perspectives, the analysis provides insight into both the structural composition and geographic concentration of global hydrocarbon resources. The visualization component of this project translates these large-scale patterns into interpretable graphics that highlight disparities, clusters, and distribution trends within the dataset.

The purpose of this sub-category is not only to describe the data, but to extract meaningful insights that demonstrate how Big Data analytics can support strategic decision-making in the energy sector. Understanding where large reservoirs are concentrated, and whether they are primarily oil or gas-based, has implications for geopolitical influence, infrastructure investment, and long-term energy security.

Figure 1: Global Distribution of Oil & Gas Reservoirs

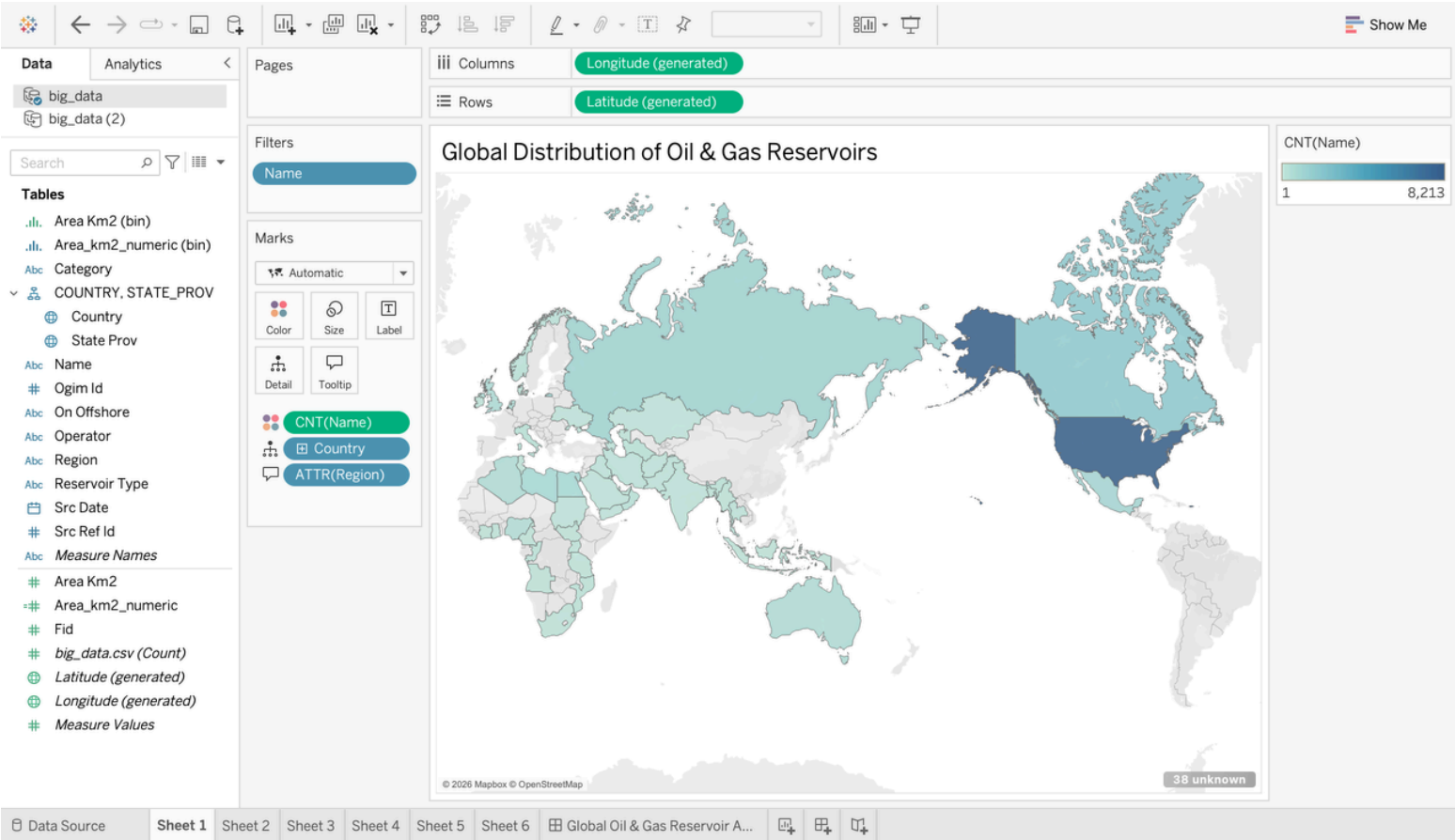

This geographic visualization illustrates the global distribution of oil and gas reservoirs by country, using count density to represent concentration levels. Countries with darker shading indicate a higher number of documented reservoirs, revealing strong geographic clustering of hydrocarbon resources. The visualization highlights that oil and gas fields are not evenly distributed worldwide, but instead concentrated in specific regions driven by geological formations and historical exploration activity. This uneven distribution has significant implications for global energy production, geopolitical influence, and economic development. Regions with dense concentrations of reservoirs often play a central role in international energy markets and supply stability. The map also demonstrates the value of Big Data visualization, as patterns that are difficult to interpret in tabular form become immediately apparent through spatial representation. By aggregating over 17,000 records, the visualization effectively summarizes large-scale geographic trends in global energy infrastructure.

Top 15 Countries by Number of Oil & Gas Reservoirs

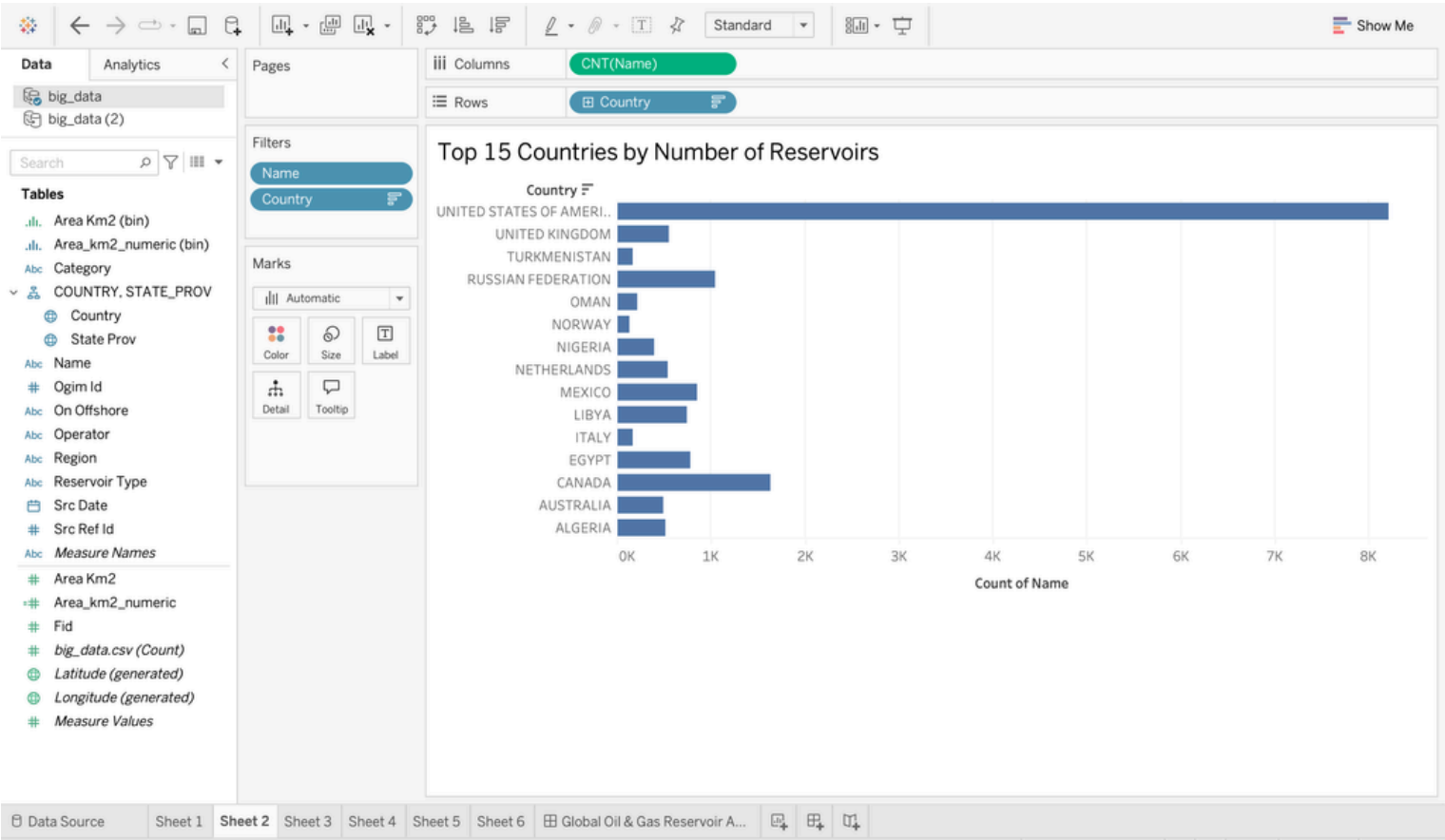

This visualization focuses on the fifteen countries with the highest number of oil and gas reservoirs recorded in the dataset. By limiting the view to the top contributors, the chart emphasizes concentration rather than dispersion, allowing for clearer comparison between major energy-producing nations. The results indicate that a small subset of countries accounts for a disproportionately large share of global oil and gas fields. This concentration reflects both favorable geological conditions and long-term investment in exploration and extraction infrastructure. The visualization also supports strategic analysis by highlighting countries that are likely to exert significant influence over global energy markets. From a Big Data perspective, the chart demonstrates how filtering and aggregation techniques can transform a large dataset into targeted, decision-relevant insights.

Oil vs Gas Reservoir Distribution by Region

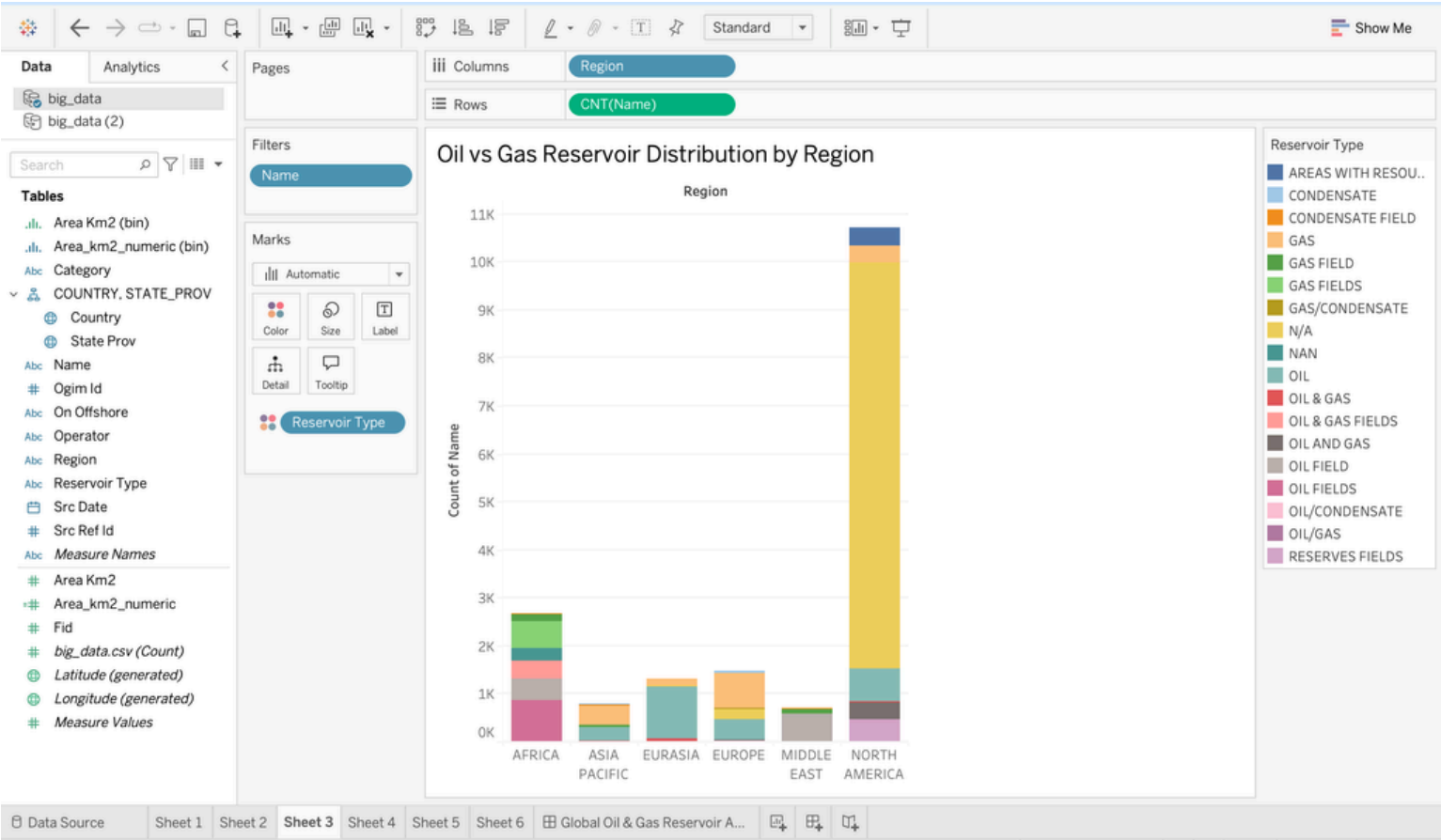

This stacked bar chart compares the composition of oil and gas reservoirs across different geographic regions. Each bar represents the total number of reservoirs in a region, while color segmentation distinguishes between oil and gas fields. The visualization reveals regional differences in resource composition, indicating that some regions are predominantly oil-focused while others show a stronger presence of natural gas reservoirs. This distinction is important for understanding regional energy specialization and infrastructure development. The chart also illustrates how Big Data enables multi-dimensional analysis by combining categorical variables within a single visualization. Such comparative insights are essential for evaluating regional energy strategies and long-term production trends.

Onshore vs Offshore Reservoir Distribution by Region

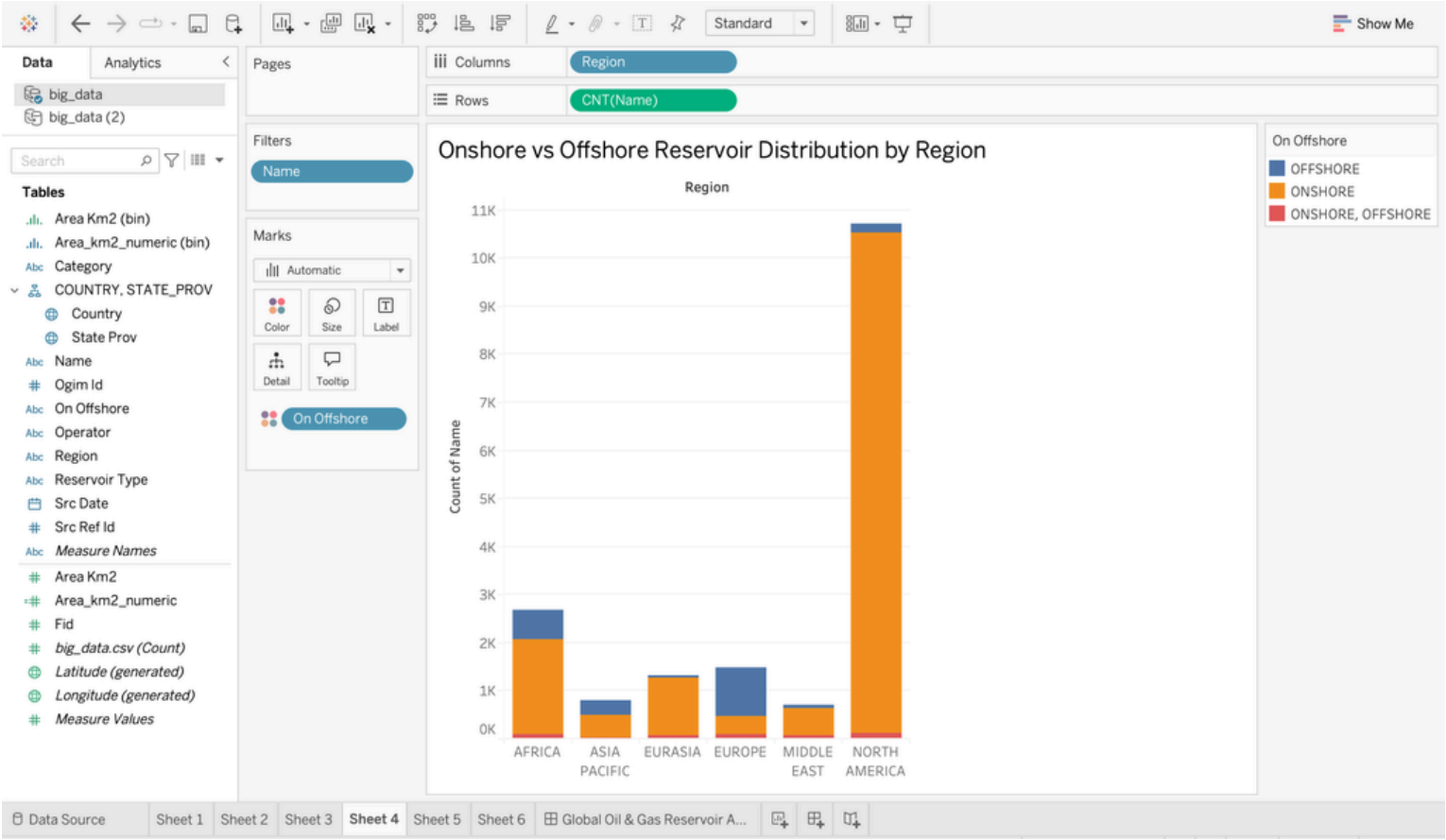

This visualization examines the structural distribution of oil and gas reservoirs by comparing onshore and offshore fields across regions. The chart demonstrates that onshore reservoirs significantly outnumber offshore fields in most regions, reflecting differences in extraction cost, technological complexity, and accessibility. Offshore reservoirs, while fewer in number, often represent high-value assets due to their potential size and production capacity. This visualization adds operational context to the geographic analysis and highlights how extraction environment influences regional energy development. From a Big Data standpoint, the chart integrates structural classification into regional analysis, offering a more comprehensive view of global energy infrastructure.

Reservoir Size Distribution (HISTOGRAM)

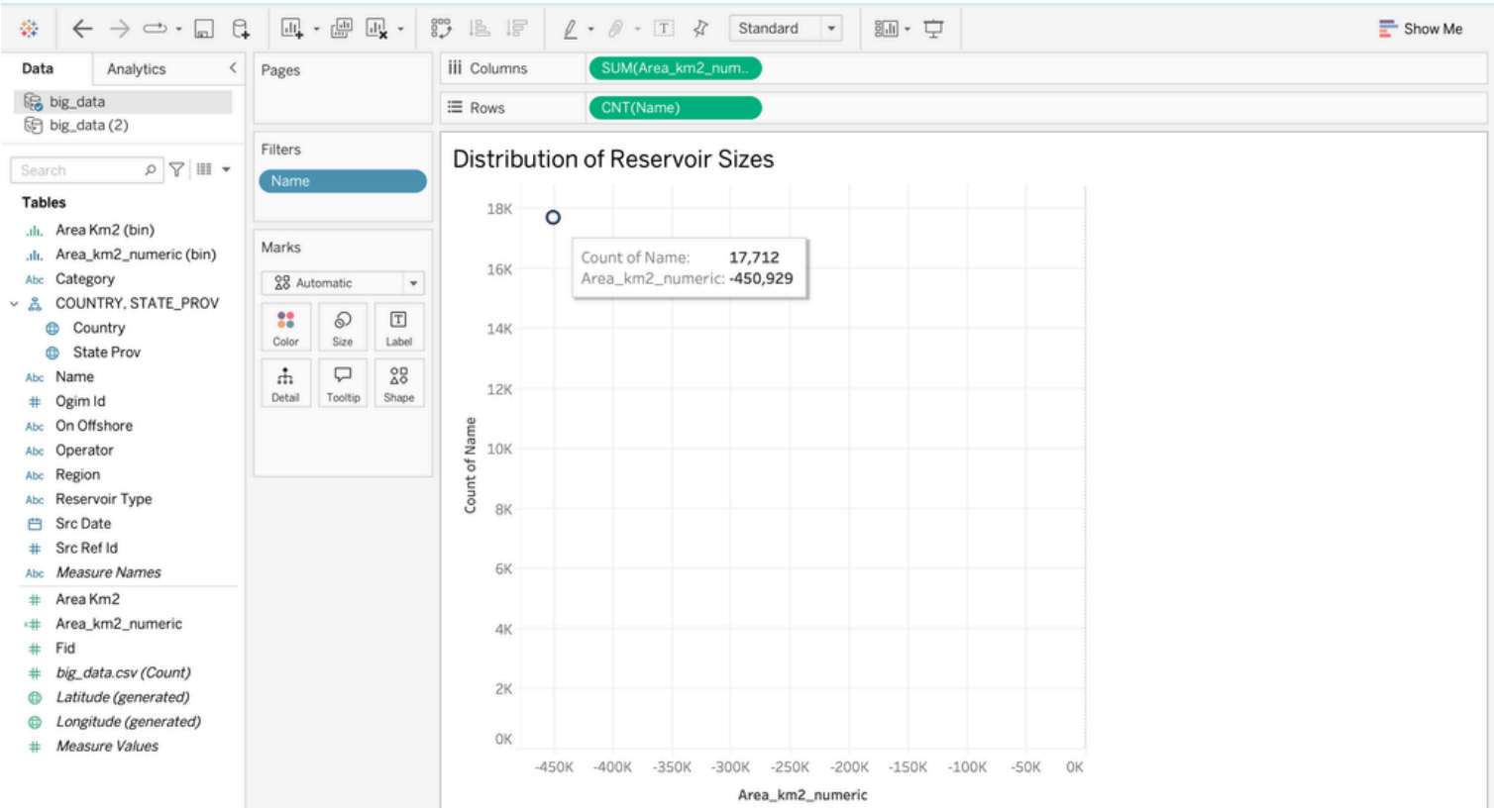

This histogram visualizes the distribution of oil and gas reservoir sizes based on surface area. The chart reveals a highly skewed distribution, where the majority of reservoirs occupy relatively small areas, while a limited number of large reservoirs act as outliers. This pattern is common in natural resource datasets and suggests that global energy production is influenced disproportionately by a small number of large fields. Understanding size distribution is essential for strategic planning, as larger reservoirs typically offer longer production lifespans and higher economic value. The visualization demonstrates how Big Data analytics can uncover structural patterns that are not immediately visible through summary statistics alone.

Dashboard Integration and Analytical Synthesis

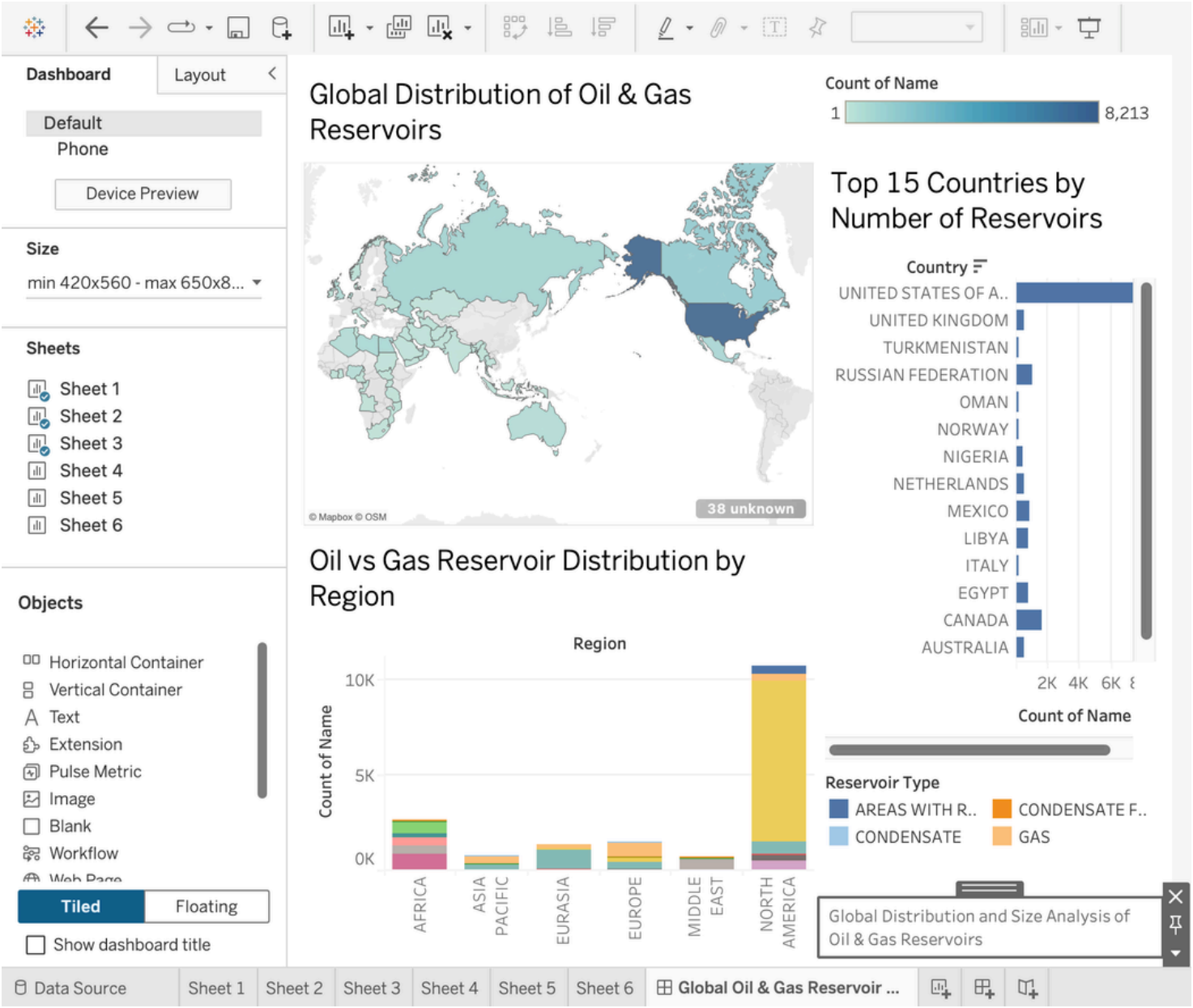

To integrate multiple dimensions of the dataset into a cohesive analytical framework, a Tableau dashboard was constructed combining geographic distribution, regional composition, and country-level concentration of oil and gas reservoirs. The dashboard presents the global distribution map alongside comparative bar charts, allowing simultaneous evaluation of spatial and structural patterns within the dataset.

The map component provides a macro-level geographic overview, highlighting the uneven distribution of reservoirs across countries. Directly beneath this, the Top 15 Countries chart isolates the dominant contributors to global reservoir counts, reinforcing the concentration patterns observed in the spatial visualization. The stacked bar visualization comparing oil and gas reservoirs by region introduces compositional analysis, allowing users to assess not only quantity but resource type specialization within regions.

By combining these visual elements into a single interactive interface, the dashboard enhances analytical clarity and supports multi-dimensional interpretation. Rather than examining each visualization in isolation, the dashboard enables cross-comparison of geographic concentration, structural composition, and resource specialization. This integrated approach reflects real-world Big Data analytics practices, where decision-makers rely on consolidated dashboards to evaluate complex datasets efficiently.

The dashboard demonstrates how large-scale structured datasets can be transformed into actionable insights through visualization design, reinforcing the importance of data integration in energy sector analytics.

Initial Findings from Visualization

The initial visualization of the global oil and gas reservoir dataset reveals several important structural and geographic patterns. First, reservoir distribution is highly concentrated within specific countries and regions, indicating strong geological clustering and long-standing exploration investment in those areas. The map and top-country analysis collectively demonstrate that a limited number of countries account for a substantial share of global reservoir records.

Second, the compositional analysis of oil versus gas reservoirs highlights regional specialization. Certain regions display dominance in oil-based reservoirs, while others show stronger representation of natural gas fields. This distinction suggests differences in geological formations and regional energy development strategies.

Third, the comparison of onshore and offshore reservoirs indicates that onshore fields remain more prevalent globally, likely due to lower development costs and accessibility advantages. However, offshore reservoirs, while fewer in number, may represent high-value strategic assets.

Finally, the reservoir size distribution analysis reveals a strongly skewed pattern, where most reservoirs are relatively small and a limited number of large fields serve as statistical outliers. This suggests that global energy production may be disproportionately influenced by a small subset of very large reservoirs.

Collectively, these findings demonstrate the value of Big Data visualization in uncovering structural imbalances, geographic concentration, and compositional variation within global energy datasets.

Conclusion

This Phase I analysis demonstrates how Big Data techniques and visualization tools can be applied to understand global oil and gas reservoir distribution. By analyzing over 17,000 records, the study highlights the uneven geographic concentration of hydrocarbon resources and reveals significant variation in reservoir type, extraction environment, and field size.

The findings indicate that global energy resources are concentrated in specific regions and countries, reinforcing the strategic importance of geographic location in energy production and geopolitical influence. Additionally, the skewed size distribution suggests that a relatively small number of large reservoirs may disproportionately affect global supply dynamics.

The use of Tableau enabled transformation of a large structured dataset into interpretable visual formats, supporting multi-dimensional analysis and strategic insight extraction. This initial phase establishes a foundation for deeper analytical work in subsequent project phases, including predictive modeling, production forecasting, and integration with market or environmental datasets.

References

OGIM Project. (2024). Open Global Infrastructure Map (OGIM) v2.7 Dataset. Zenodo Data Repository.
Retrieved from: https://zenodo.org/records/15103476

International Energy Agency. (2024). Digitalization and Big Data in the Oil and Gas Industry.
Retrieved from: https://www.iea.org

U.S. Energy Information Administration. (2024). Global Oil and Gas Statistics.
Retrieved from: https://www.eia.gov/international/

Dataset Source

https://zenodo.org/records/15103476?

The dataset used for this analysis was obtained from the Open Global Infrastructure Map (OGIM) v2.7, available through the Zenodo research data repository. This dataset contains global geospatial information on oil and gas infrastructure including reservoirs, fields, and related energy assets. The original dataset was provided in GeoPackage (.gpkg) format, with a total file size of approximately 3.8 GB, containing thousands of geospatial records. Due to the large size and geospatial structure of the dataset, the data was first processed using QGIS, an open-source Geographic Information System software. QGIS was used to extract relevant attributes such as country-level reservoir information and other relevant variables. The processed data was then exported into a CSV format which allowed it to be imported into Tableau Public for visualization and exploratory big data analysis. This extraction process mirrors typical ETL/ELT data pipeline workflows used in big data environments where large geospatial datasets must be transformed before analytical use.